PERMITPULSE

PERMIT REVIEW PLUS

First-Pass Public Record Check

REDACTED

REDACTED

ZIMAS MAP REDACTED

APN
REDACTED

JURISDICTION
City of Los Angeles / Venice

COMPLEXITY RATING
HIGH

MAIN RISK SIGNAL
Venice Coastal Zone + RSO/Housing flags

ectural, engineering, title, or zoning opinion.

REDACTED PUBLIC SAMPLE

CLIENT-READY DRAFT - OFFICIAL EVIDENCE APPENDIX INCLUDED

ONE-PAGE CHEAT SHEET

REDACTED 'E REI REDACTED

Prepared as a first-pass public-record review. Not a legal, architectural, engineering, title, or zoning opinion.

Address checked	Record signal
REDACTED / REDACTED	ZIMAS and LADBS both returned official parcel/permit evidence.
APN REDACTED	Confirmed in ZIMAS and LADBS permit / C of O documents.
Jurisdiction: City of Los Angeles	Venice Community Plan Area, Council District 11, West LA APC.
Complexity rating: HIGH	Venice Coastal Zone, Specific Plan, RSO/Housing flags and liquefaction warrant careful confirmation.

TOP 5 TAKEAWAYS

• LADBS returned visible permit history, not a blank parcel: 2 permit-information groups, 1 C of O record, 0 visible code enforcement records, and 2 retrofit screens.

• The strongest official document is REDACTED REI issued 01/04/2023, for a 1,430 square-foot second-story addition to an existing one-story single-family dwelling.

• ZIMAS shows RD1.5-1 zoning and Low Medium II Residential land use inside the Venice Coastal Zone Specific Plan area.

• ZIMAS Housing shows RSO: Yes and Housing Replacement Review: Yes for APN REDACTED This needs confirmation before relying on rental/unit/change-of-use assumptions.

• ZIMAS Seismic Hazards shows Liquefaction: Yes. This does not block a project by itself, but it is a practical design/permitting watch item.

QUICK VERDICT SCORECARD

Risk / Watch Item	Severity	Action
Record confidence	High	ZIMAS and LADBS tie the parcel to APN REDACTED Separate Assessor/title confirmation is still recommended for transaction use.
Permit history visibility	Strong	Official LADBS screens and PDFs show remodel/addition, C of O, demolition, electrical, plumbing and fire sprinkler activity.
Planning/zoning complexity	High	Venice Coastal Zone Specific Plan + coastal transportation corridor + housing flags increase review friction.
Recommended next move	Confirm	Verify finals, C of O scope, housing/RSO impact and coastal/specific-plan requirements before acting.

1. Executive Summary

This first-pass check found a meaningful official record trail for the subject property. It is not a clean "nothing found" parcel. LADBS and ZIMAS both returned records tied to the APN and address format used by City systems.

The property looks moderate-to-high complexity from a permitting and planning standpoint. The main reason is Venice: the property sits in the Venice Community Plan area and ZIMAS shows Venice Coastal Zone Specific Plan information, Los Angeles Coastal Transportation Corridor references, RSO/housing flags, and liquefaction. The permit record itself is not automatically a problem, but it creates specific items to verify before any transaction or construction decision.

VISIBLE RISK / WATCH MATRIX

Issue	Severity	Why it matters
Coastal / Venice Specific Plan review	High	ZIMAS shows Venice Coastal Zone Specific Plan and Oakwood-Milwood-Southeast Venice subarea. Confirm coastal development permit, specific-plan project permit, Mello Act, parking and design implications for the contemplated scope.
Permit closeout / final-status verification	Medium	LADBS result tables show several permit statuses. Verify finaled/open/corrections status directly before relying on the property record.
Certificate of Occupancy scope	Medium	C of O REI shows a single-family dwelling after a 1,430 sf second-story addition. Confirm it matches existing physical conditions and intended use.
RSO / Housing Replacement Review	High	ZIMAS Housing shows RSO Yes and Housing Replacement Review Yes. Confirm with LAHD/City Planning before demolition, conversion, unit changes, rental decisions, or major remodel strategy.
Liquefaction	Medium	ZIMAS Seismic Hazards shows Liquefaction Yes. Treat as design/permitting due diligence for structural/geotechnical work.
Code enforcement visible in captured LADBS search	Low	LADBS summary screen shows 0 Code Enforcement Information records for the searched address. This is only a portal result, not a guarantee.
Planning case mismatch	Medium	A PDIS case page reviewed during research displays primary address REDACTED Do not treat it as confirmed parcel-specific without manual APN/address confirmation.

2. Address, Parcel and Jurisdiction

Item	Finding	Source evidence
Client-requested address	REDACTED REDREDACTED	Client request
City system address display	REDACTED ZIMAS also displays REDACTED REDACTED on the same selected parcel	ZIMAS Address / Legal Information and LADBS screens
APN	REDACTED : REDACTED	ZIMAS, LADBS C of O, LADBS permit PDFs
Legal / parcel identifiers	REDACTED ED RE	ZIMAS and LADBS documents
Jurisdiction	City of Los Angeles, Venice Community Plan Area, Council District 11	ZIMAS Jurisdictional Information
Planning district	West Los Angeles Area Planning Commission; Venice Neighborhood Council	ZIMAS Jurisdictional Information
Assessor limitation	APN is confirmed through City records. A separate LA County Assessor screenshot was not included in this packet.	Manual confirmation recommended for title, tax roll, escrow, financing or legal ownership use

3. Planning and Zoning Findings

Planning / zoning item	Visible finding	Practical effect
Zoning	RD1.5-1	Residential zoning with density/yard/height/parking constraints that should be confirmed against any proposed scope.
General Plan Land Use	Low Medium II Residential	Residential land-use designation shown in ZIMAS.
Community Plan Area	Venice	Places the parcel in a high-friction planning area with coastal-related policy overlays.
Specific Plan Area	Venice Coastal Zone	Major risk flag. Confirm coastal/specific-plan path before additions, demolition, conversion, ADU or redevelopment assumptions.
Subarea	Oakwood-Milwood-Southeast Venice	Subarea standards can affect height, roof form, parking and design review expectations.
Los Angeles Coastal Transportation Corridor	Shown in ZIMAS and LADBS parcel documents	Potential transportation/parking/infrastructure-related review context.
Historic flags	Historic Preservation Review: No; HistoricPlacesLA: No	No visible ZIMAS historic/HPOZ-type flag in captured screen. Manual confirmation remains appropriate for demolition-sensitive scopes.
Transit incentives	TOC / corridor incentives shown as not eligible in captured ZIMAS screen	Do not assume TOC density bonus availability from first-pass view.

4. Permit History Findings

The official LADBS record trail is the strongest part of this packet. The captured portal screens and downloaded PDFs show a remodel/addition path, certificate of occupancy, demolition permits, electrical, plumbing and fire sprinkler records.

Record	Status / date shown	Work description / significance
LADBS Summary Screen	Search captured May 4, 2026	1 Parcel Profile Report, 2 Permit Information groups, 0 Code Enforcement records, 1 Certificate of Occupancy record, 2 Retrofit Program records.
C of C REDACTED / Permit	CofO Issued 01/04/2023	1430 square-foot second-story addition to existing one-story single-family dwelling. Total floor area shown as 2,565 sf.
REDACTED	Issued 09/29/2016; valuation $338,000	Major remodeling and 2nd story addition to existing 1-story single-family dwelling.
REDACTED DACTED	Quality review/corrections visible in LADBS table	Supplemental plan revisions and window revision entries. Needs direct status confirmation if material.
REDACTED	Permit Finaled 11/10/2016 in result table	Demo existing recreation room; handwreck.
REDACTED	Permit Finaled 11/10/2016 in result table	Demo existing garage; handwreck.
REDACTED	Issued 10/17/2016	Install temporary power.
REDACTED	Permit finaled in table; PDF issued 06/04/2004	Installed one earthquake valve.
REDACTED	Permit Finaled 10/03/2018 in result table	Fire sprinkler installation in new single-family dwelling / guest house per visible LADBS table.

5. What Was Not Found or Not Confirmed

• No LADBS Code Enforcement Information record was visible in the captured LADBS summary screen. This is not proof that no enforcement issue exists elsewhere.

• No visible ZIMAS historic preservation or HistoricPlacesLA flag was shown in the captured Planning and Zoning panel.

• The PDIS case REDACTED was reviewed, but the visible primary address is REDACTED It is included only as a cautionary manual-confirmation item, not as confirmed evidence for REDACTED

• A separate LA County Assessor printout, title record, survey, ownership guarantee, and current field condition inspection were not part of this packet.

6. What to Do Next

Use this as the client-facing action list. The goal is not to keep researching endlessly; it is to close the highest-value uncertainty before money, scope, schedule or filing decisions.

Done	Action	Why
[ ]	Verify LADBS permit final status for every permit affecting the current structure	Avoid relying on a record that may be corrections-issued, superseded, expired, or not fully closed.
[ ]	Confirm C of O REI against existing physical conditions	Make sure the legal occupancy and built condition align before listing, bidding, buying or designing.
[ ]	Confirm RSO and Housing Replacement Review implications with LAHD / City Planning	ZIMAS Housing shows RSO Yes and Housing Replacement Review Yes. This is a major practical flag.
[ ]	Confirm Venice Coastal Zone Specific Plan path for the contemplated scope	Demolition, additions, remodels, ADUs, conversions and parking changes can trigger coastal/specific-plan review.
[ ]	Screen for Mello Act / coastal housing replacement if residential units are affected	Venice coastal work can create housing-related review beyond normal LADBS permit scope.
[ ]	Confirm liquefaction/geotechnical requirements if structural work is planned	ZIMAS Seismic Hazards shows Liquefaction Yes.
[ ]	Use City Planning only after tying any case number back to APN/address	Avoid false positives from area-wide or nearby case records.

7. Practical Recommendation

From a first-pass view, this property should be treated as a high-complexity Venice residential parcel with a real permit history. That does not mean it is a bad property or that there is a violation. It means the record is layered enough that a buyer, contractor, investor, owner, expeditor or agent should verify the official path before making commitments.

The best next move is a targeted confirmation pass: verify LADBS final statuses, reconcile the 2023 certificate of occupancy with the existing property condition, confirm RSO/housing implications, and confirm the coastal/specific-plan review path for the intended scope. This will reduce risk faster than more broad internet searching.

8. Compact Source Log

Source	Search / evidence used	Result	Evidence included
ZIMAS	REDACTED / APN REDACTED	Address/APN, zoning, jurisdiction, case list, hazards and housing screens captured.	Cropped screenshots
LADBS Permit & Inspection Report	REDACTED	Returned permit records, C of O, retrofit and zero visible code enforcement count.	Cropped screenshots
LADBS Online Building Records / PDFs	REDACTED downloaded PDF records	Archived building records and official permit/C of O excerpts.	Cropped screenshots + PDF excerpts
Venice LCP / City Planning	Venice Local Coastal Program and PDIS review	Coastal context captured; PDIS case mismatch handled as manual-confirmation item.	Cropped screenshots + LCP excerpts

9. Disclaimer

This report is a first-pass public-record review prepared from available online sources. It is not a legal opinion, zoning determination, title report, survey, architectural review, engineering review, or guarantee of permit approval. Final confirmation should be obtained from the appropriate city, county, agency, licensed professional, or permit authority.

REDACTED PUBLIC SAMPLE

EVIDENCE APPENDIX

Cropped Official Screenshots and PDF Excerpts

Screenshots were cropped to remove phone browser chrome and large blank space while preserving official portal context and the visible record content. The appendix is intentionally condensed so it can be reviewed quickly.

Appendix group	Evidence	Use
A1-A3	LADBS portal screens	Permit counts, permit list, C of O, retrofit and archived building record list.
A4-A8	ZIMAS screens	APN, parcel map, jurisdiction, zoning, overlays, hazards, case list and housing/RSO.
A9-A10	Venice coastal / PDIS context	Official coastal context and address-mismatch caution.
B1-B4	Official PDF excerpts	C of O, addition, demolition, electrical, plumbing and LCP exhibits.

REDACTED PUBLIC SAMPLE

A1. LADBS Permit and Inspection Result Screens

Cropped screenshots from the official LADBS Permit & Inspection Report portal.

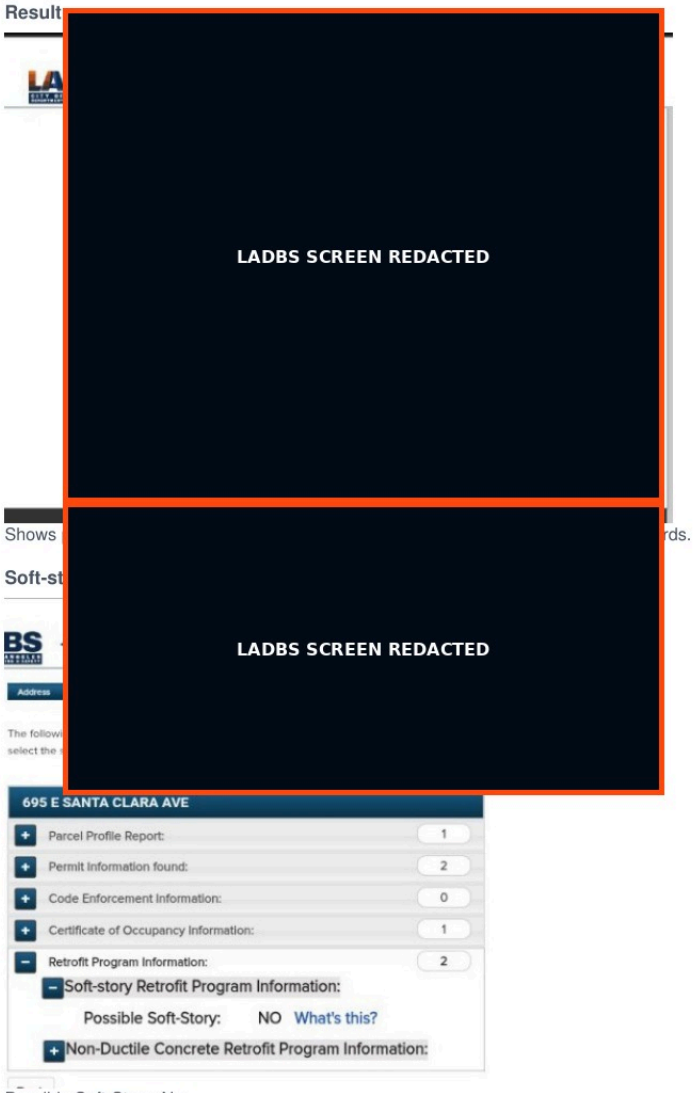

Possible Soft-Story: No.

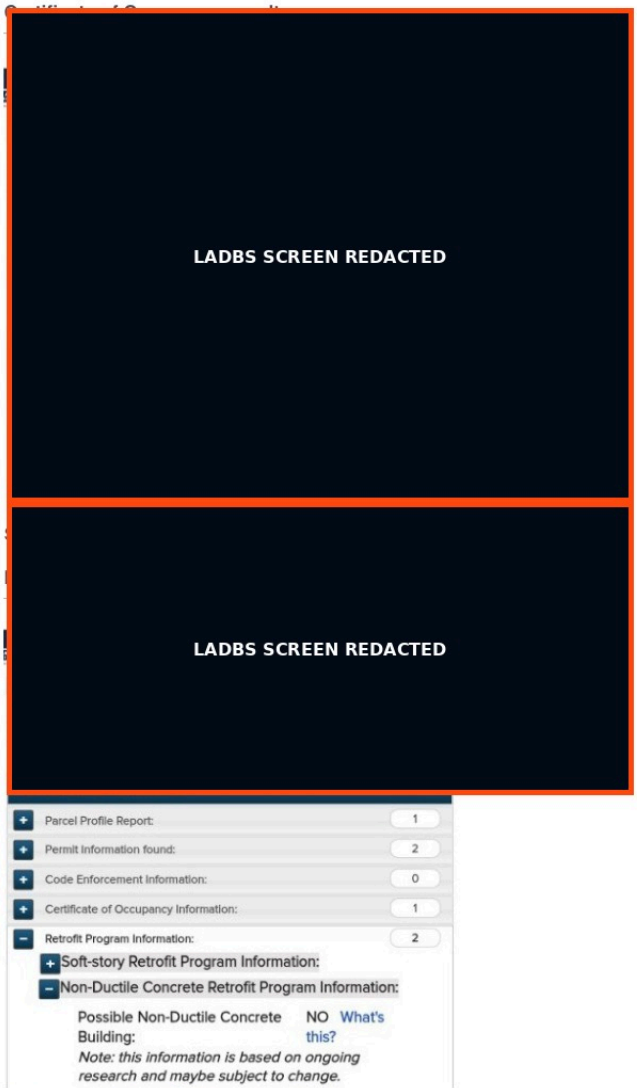

Possible Non-Ductile Concrete Building: No.

EVIDENCE EXHIBIT

A4. ZIMAS Address / APN / Parcel Map

ZIMAS address/legal information and parcel map

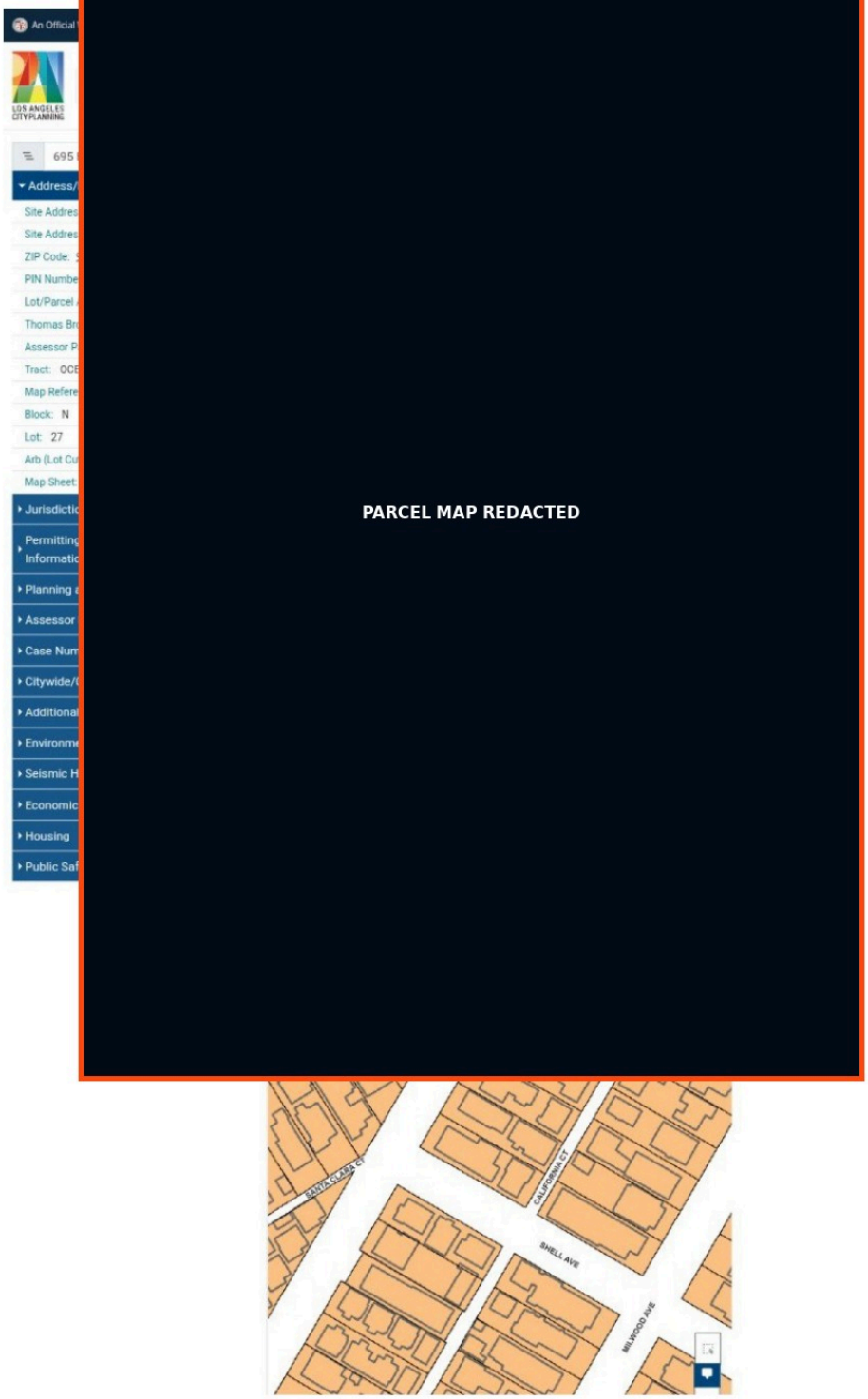

EVIDENCE EXHIBIT

A8. ZIMAS Housing / RSO

Housing panel showing RSO: Yes

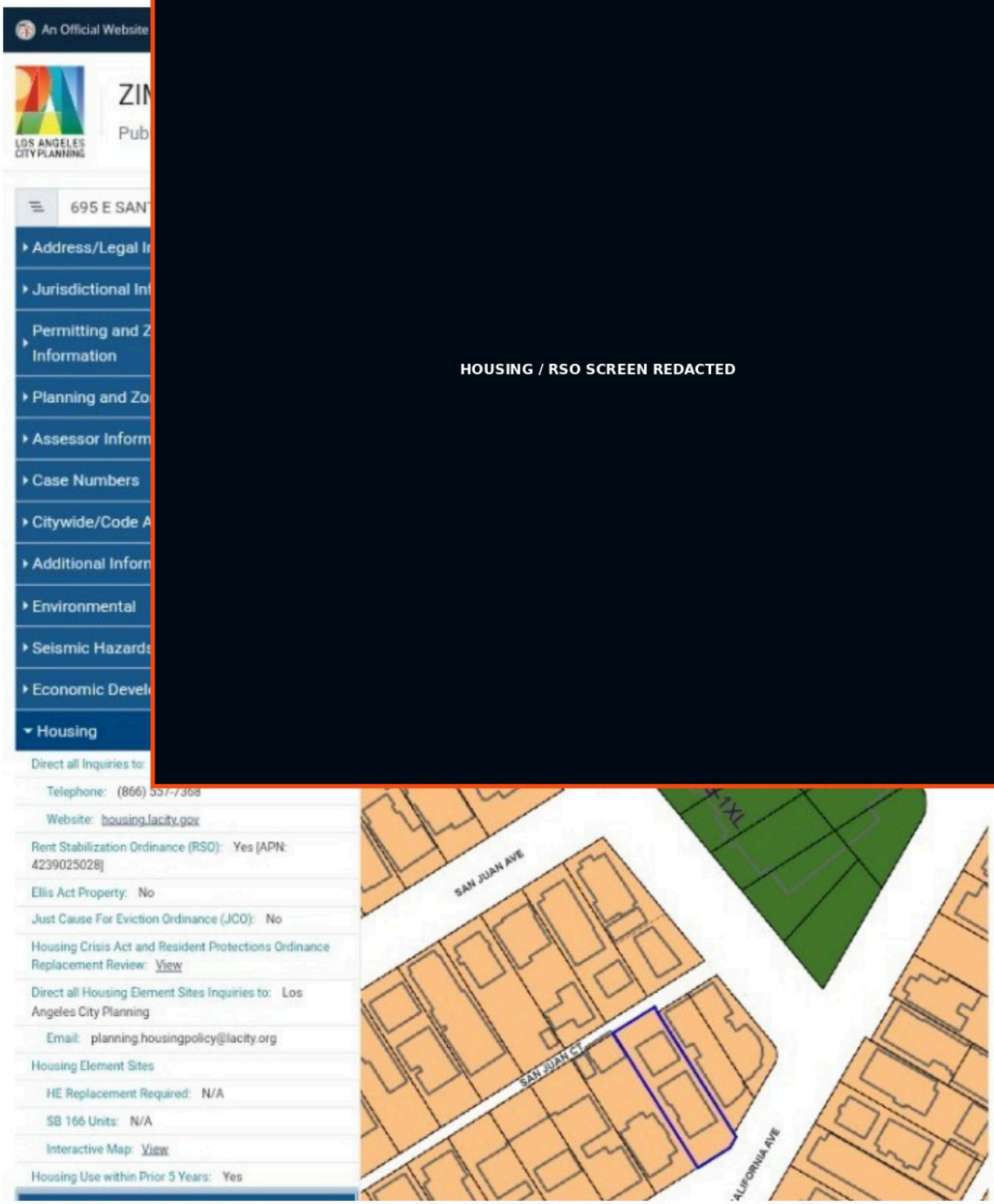

REDACTED PUBLIC SAMPLE